Towards Fluid Networking: Citizen-Co-Created Low-Height Distributed MIMO Access Networks

Gilles Callebaut *,
* KU Leuven, Belgium

***Abstract*—This paper studies low-height distributed-multiple-input multiple-output (MIMO) access networks with repositionable access points in an outdoor urban setting. Using the `COCOON-Sionna` framework, the workflow generates wall-mounted candidate access points (APs), simulates pedestrian and bicycle mobility, computes path-based channel state information (CSI), and compares a central rooftop proxy, a fixed distributed deployment, and three relocation-capable distributed deployments over a common scenario. The article formalizes the signal-to-interference-plus-noise ratio (SINR)- and ergodic sum rate (ESR)-based evaluation model, a history-aware K-nearest relocation heuristic based on previously evaluated AP-to-user equipment (UE) CSI, a nearest-user UE-to-UE proxy-CSI heuristic with a proxy-ESR objective, a nearest-user proxy-power heuristic based on $|\mathrm{CSI}|^2$, and the postprocessing workflow that produces geometry, performance, and relocation-cost figures from reproducible simulation outputs.**

***Index Terms*—cell-free systems, distributed MIMO, low-height access points, access-point placement, urban mobility, Sionna RT**

Missing figure asset

`\ConceptFigurePath`

Rebuild or copy the expected output before finalizing the manuscript.

Fig. 1: Conceptual illustration of the Cocoon low-height access-network vision.

I. Introduction

The Cocoon project targets a wireless access paradigm in which the network adapts to the fluidity of the city rather than assuming a static infrastructure and a stationary demand profile. The motivating hypothesis from the project proposal is that a practical cell-free (CF) network becomes more feasible when low-height infrastructure can be co-created, repositioned, and activated only when the measured channel conditions justify it. In that view, the citizens are not only traffic sources but also anchors for sensing, mounting, and reconfiguring the surrounding network.

This article narrows that broader vision to a simulation-based study of low-height infrastructure adaptation. The implemented framework covers wall-mounted candidate access points (APs), outdoor user mobility, path-based channel state information (CSI) extraction, and repeated placement decisions over relocation windows in an urban scene. This scope enables a reproducible comparison of geometry, radio-performance, and relocation-cost metrics for alternative infrastructure strategies.

The main contributions of the present study are:

- a concise technical framing of Cocoon as a low-height, movable-AP, citizen-co-created access-network concept,
- a reproducible description of the Rabot outdoor simulation pipeline implemented in `COCOON-Sionna`, and
- a common analysis workflow for geometry, signal-to-interference-plus-noise ratio (SINR), ergodic sum rate (ESR), and relocation-cost results derived from exported simulation artifacts.

For the purpose of open access, the author has applied a CC BY public copyright license to any Author Accepted Manuscript version arising from this submission.

II. Scope Within Cocoon

The full Cocoon proposal spans citizen interaction with the wireless network, channel assessment, architecture design, and proof-of-concept validation. The present article addresses the simulation-facing part of that program, with emphasis on dynamic channel-aware adaptation, low-height AP/contact service point (CSP) placement, and the algorithmic consequences of allowing physical repositioning.

The main modeling simplification is that co-creation is represented here through an abstract movable infrastructure layer rather than through a user study or a deployment trial. Candidate mounting locations stand in for positions that could later be offered to citizens, and the placement scheduler stands in for the future tool chain that would notify participants where the next best CSP constellation should be installed.

Accordingly, the scope of the present article is:

- the paper validates a simulation methodology and a comparison workflow, not the social feasibility of citizen participation,
- the paper studies a Rabot outdoor scenario, not yet a multi-site or multi-season campaign,

- the paper compares placement strategies over a common CSI-derived objective, not yet a full end-to-end network stack.

III. System Model

We consider a downlink distributed MIMO (D-MIMO) system with active APs $\mathcal{A} = \{1, \ldots, M\}$ and scheduled user equipments (UEs) $\mathcal{U} = \{1, \ldots, K\}$. Let N_m denote the number of transmit ports at AP m, let $N_{r,k}$ be the number of receive ports at UE k, and let $f \in \{1, \ldots, F\}$ index the sampled CFR tones over the $100\,\mathrm{MHz}$ band. The per-AP channel block on tone f is

$$\mathbf{H}_{k,m}[f] \in \mathbb{C}^{N_{r,k} \times N_m}, \tag{1}$$

and the full distributed channel observed by UE k is

$$\mathbf{H}_k[f] = [\mathbf{H}_{k,1}[f]\ \mathbf{H}_{k,2}[f]\ \cdots\ \mathbf{H}_{k,M}[f]]\,. \tag{2}$$

Given a receive combiner $\mathbf{u}_k[f]$, the effective channel becomes

$$\mathbf{h}_k^{\mathsf{H}}[f] = \mathbf{u}_k^{\mathsf{H}}[f]\mathbf{H}_k[f]. \tag{3}$$

Stacking all users yields the effective distributed channel matrix $\mathbf{H}_{\mathrm{eff}}[f]$. The current pipeline applies a least-squares pseudo-inverse zero-forcing (ZF) precoder independently on every sampled tone, followed by per-stream power allocation under a total AP power budget.

For UE k on tone f, the instantaneous downlink SINR is evaluated as

$$\mathrm{SINR}_k^{\mathrm{DL}}[f] = \frac{p_k \left|\mathbf{h}_k^{\mathsf{H}}[f]\mathbf{f}_k[f]\right|^2}{\sum_{i \in \mathcal{U},\, i \neq k} p_i \left|\mathbf{h}_k^{\mathsf{H}}[f]\mathbf{f}_i[f]\right|^2 + \sigma^2}, \tag{4}$$

where $\mathbf{f}_i$ is the precoding vector for stream i, p_i its allocated power, and σ^2 the thermal-noise term. The implementation keeps the interference term explicitly and exports desired-signal, interference, and noise power terms for each evaluated user snapshot.

The implementation evaluates this expression on all sampled tones and stores a scalar wideband SINR per user by mapping the tone-averaged spectral efficiency back to a Shannon-equivalent SINR. The ESR used later in the results section is derived from the same full-band per-snapshot SINR samples. For snapshot n with scheduled-user set $\mathcal{U}_n$, the postprocessing layer computes

$$\mathrm{ESR}_n = \sum_{k \in \mathcal{U}_n} \frac{1}{F} \sum_{f=1}^{F} \log_2\!\left(1 + \mathrm{SINR}_{k,n}^{\mathrm{DL}}[f]\right). \tag{5}$$

These per-snapshot SINR values form the basis of the trajectory-level SINR and ESR statistics reported later in the article.

A. Placement Strategies

The placement layer compares five strategies under a common AP budget:

- `central_massive_mimo`: one rooftop proxy AP is placed on the building whose rooftop representative point is nearest the area center; the proxy is oriented toward the area center. This is a normalized central reference, not a full single co-located-array placement model.
- `distributed_fixed`: a distributed set of wall-mounted candidate positions is sampled once and kept fixed over the full trajectory.
- `distributed_movable`: optimization 1. The same number of distributed APs is reselected at each relocation window from the wall-mounted candidate pool with a history-aware local-CSI rule.
- `distributed_movable_optimization_2`: optimization 2. The same number of distributed APs is reselected at each relocation window from the wall-mounted candidate pool with a current-window nearest-user UE-to-UE proxy-CSI rule and a proxy-ESR objective.
- `distributed_movable_optimization_3`: optimization 3. The same number of distributed APs is reselected at each relocation window from the wall-mounted candidate pool with the same nearest-user proxy association as optimization 2, but with a proxy-average-power objective based on $|\mathrm{CSI}|^2$.

Let $\mathcal{C}$ denote the wall-mounted candidate pool and let $\mathcal{S}_w \subseteq \mathcal{C}$ denote the selected movable-AP subset in relocation window w. In the Rabot scenario studied here, $|\mathcal{S}_w| = N_{\mathrm{mov}} = 6$ and no always-on distributed APs are used, so the distributed comparison isolates the effect of changing the movable subset over time.

B. Relocation Heuristic

At an intuitive level, the relocation mechanism repeats the same observe-score-relocate loop at every relocation instant. Optimization 1 uses simulated AP-to-UE channel observations from previously evaluated subsets and discounts older samples exponentially. Optimization 2 and optimization 3 follow a different practical assumption: the AP-to-UE channel of a dormant candidate position is not known before an AP is actually moved there. Consequently, these two rules do not optimize directly over candidate-position AP-to-UE CSI. Instead, each candidate site is associated with the closest user within a distance threshold, the measured UE-to-UE channel of that nearby user is reused as a proxy for the dormant candidate site, and the subset is ranked either by proxy ESR (optimization 2) or by proxy average received power (optimization 3). Once the best subset has been chosen, the movable APs are relocated to those candidate positions and the actual deployed AP-to-UE CSI is recomputed for storage, postprocessing, and final reporting.

The movable distributed strategy is implemented as a windowed receding-horizon controller. Let $\{t_n\}_{n=0}^{N_t-1}$ denote the simulated snapshot times and let T_{rel} denote the relocation

interval. The trajectory is partitioned into disjoint decision windows

$$\mathcal{W}_w = \left\{ n \in \{0, \ldots, N_t - 1\} : \left\lfloor \frac{t_n - t_0}{T_{\mathrm{rel}}} \right\rfloor = w \right\}. \quad (6)$$

At the beginning of each window w, the controller selects a subset $\mathcal{S}_w \subseteq \mathcal{C}$ with cardinality $|\mathcal{S}_w| = N_{\mathrm{mov}}$, where N_{mov} is the movable-AP budget. The fixed distributed mode uses one time-invariant subset, whereas the movable mode recomputes $\mathcal{S}_w$ at every relocation instant.

a) Optimization 1: historical K-nearest local-CSI controller.: The first online decision rule is intentionally local and does not optimize a full radio map. For a candidate site $c \in \mathcal{C}$ with horizontal position $\mathbf{x}_c \in \mathbb{R}^2$, define the local neighborhood $\mathcal{N}_K(c, w)$ as the set of the K nearest UE-snapshot pairs in the horizontal plane within window w,

$$\mathcal{N}_K(c, w) = \mathrm{KNN}_K(\mathbf{x}_c; \{\mathbf{r}_{u,n} : u \in \mathcal{U}, n \in \mathcal{W}_w\}), \quad (7)$$

where $\mathbf{r}_{u,n}$ denotes the horizontal position of UE u at time index n. For a subset $\mathcal{S} \subseteq \mathcal{C}$, the support region used by the controller is the union

$$\mathcal{N}_K(\mathcal{S}, w) = \bigcup_{c \in \mathcal{S}} \mathcal{N}_K(c, w). \quad (8)$$

In the Rabot configuration, $K = 10$, so each candidate contributes at most ten local UE-snapshot pairs per window. This restriction makes the relocation rule sensitive to the CSI observed near the candidate sites rather than to globally averaged scene statistics. In other words, user positions are used to construct the local sampling mask, but they do not enter the score directly.

For every queried subset $\mathcal{S}$, the implementation computes the corresponding AP-to-UE CSI/SINR segment over the current window and stores it in a per-subset cache. Thus, the relocation heuristic is driven by channel-response information associated with the candidate subset under evaluation, not by geometry alone. If $\gamma_{u,n}(\mathcal{S})$ denotes the best-link SINR sample produced when subset $\mathcal{S}$ is active, the historical record available when deciding window w is

$$\mathcal{H}_w(\mathcal{S}) = \{(t_n, \gamma_{u,n}(\mathcal{S})) : u \in \mathcal{U}, n \in \mathcal{W}_j, j = 0, \ldots, w\}. \quad (9)$$

When the same subset is revisited later, previously computed window segments are reused and only the new current-window segment is appended. Thus, the historical objective remains consistent while avoiding repeated ray-tracing evaluations for past windows. In the present implementation, the relocation score is formed from these AP-to-UE channel samples only; UE-to-UE CSI is reserved for the final trajectory-level comparison score, and AP-to-AP CSI is exported for analysis rather than for online relocation control.

Historical CSI is discounted through exponential aging. If a sample was observed at time t_n and the relocation decision for window w is taken at t_w^{end}, the associated weight is

$$\omega_n^{(w)} = \exp\left[-\lambda \left(t_w^{\mathrm{end}} - t_n\right)\right], \quad (10)$$

with λ the configured decay rate. Hence, newer samples always dominate older ones: a sample measured at the decision time keeps weight 1, a sample that is one relocation window old keeps weight $\exp(-\lambda T_{\mathrm{rel}})$, and the weight keeps halving every additional relocation window when $\lambda = \ln(2)/T_{\mathrm{rel}}$, as in the Rabot configuration. The local control objective is then the weighted empirical 10th percentile of the SINR samples retained by the local neighborhoods across all observed windows,

$$J_w^{(1)}(\mathcal{S}) = Q_{0.1}^{\omega}\left(\left\{\gamma_{u,n}(\mathcal{S}) : (u, n) \in \bigcup_{j=0}^{w} \mathcal{N}_K(\mathcal{S}, j)\right\}\right), \quad (11)$$

where $Q_{0.1}^{\omega}(\cdot)$ denotes the weighted 10th-percentile operator induced by $\omega_n^{(w)}$. The use of a lower-tail percentile, rather than a mean, makes the controller deliberately conservative with respect to persistently weak local links.

b) Optimization 2: current-window nearest-user proxy-CSI controller.: The second online rule removes the K-nearest construction and does not use historical samples. Let d_{th} denote the configured distance threshold. For each candidate site $c \in \mathcal{C}$ and snapshot $n \in \mathcal{W}_w$, define the anchor user

$$\ell(c, n) = \arg\min_{u \in \mathcal{U}} \|\mathbf{r}_{u,n} - \mathbf{x}_c\|_2, \quad (12)$$

and the validity indicator

$$\delta(c, n) = \mathbf{1}\left\{\left\|\mathbf{r}_{\ell(c,n),n} - \mathbf{x}_c\right\|_2 \le d_{\mathrm{th}}\right\}. \quad (13)$$

The dormant candidate-position AP-to-UE channel is not available before relocation. Therefore, optimization 2 replaces it by a proxy channel extracted from the measured UE-to-UE CSI. If $h_{u,v,n}^{\mathrm{UU}}[f]$ denotes the sampled UE-to-UE coefficient from transmitter-user v to receiver-user u at snapshot n and tone f, the proxy coefficient used for candidate c is

$$\tilde{h}_{u,c,n}[f] = \begin{cases} h_{u,\ell(c,n),n}^{\mathrm{UU}}[f], & \delta(c,n) = 1,\ u \neq \ell(c,n), \\ h_{v^\star,\ell(c,n),n}^{\mathrm{UU}}[f], & \delta(c,n) = 1,\ u = \ell(c,n), \\ 0, & \delta(c,n) = 0, \end{cases} \quad (14)$$

where $v^\star = \arg\max_{v \in \mathcal{U}} \max_f |h_{v,\ell(c,n),n}^{\mathrm{UU}}[f]|$ supplies a surrogate self-link because the diagonal user-to-itself measurement is not observable. For a candidate subset $\mathcal{S}$, the proxy channel matrix $\tilde{\mathbf{H}}_n[f](\mathcal{S})$ is formed by stacking the columns $\tilde{h}_{u,c,n}[f]$ for all $c \in \mathcal{S}$. The same ZF procedure as in the deployed AP case is then applied on every sampled tone, yielding a proxy SINR $\tilde{\gamma}_{u,n}[f](\mathcal{S})$ and the current-window proxy-ESR objective

$$J_w^{(2)}(\mathcal{S}) = \frac{1}{|\mathcal{W}_w| F} \sum_{n \in \mathcal{W}_w} \sum_{f=1}^{F} \sum_{u \in \mathcal{U}} \log_2(1 + \tilde{\gamma}_{u,n}[f](\mathcal{S})). \quad (15)$$

Consequently, optimization 2 uses measured UE-to-UE proxy CSI to rank candidate subsets, while avoiding the unrealistic assumption that dormant candidate-position AP-to-UE channels are already known.

c) Optimization 3: current-window nearest-user proxy-power controller.: The third online rule reuses the same nearest-user anchor $\ell(c,n)$ and validity indicator $\delta(c,n)$ as optimization 2, but it does not use the complex proxy coefficient directly. Instead, it works with the proxy received-power quantity

$$\tilde{\rho}_{u,c,n} = \frac{P_{\mathrm{AP}}}{P_{\mathrm{UE}}} \frac{1}{F} \sum_{f=1}^{F} \left| \tilde{h}_{u,c,n}[f] \right|^2, \tag{16}$$

where the factor $P_{\mathrm{AP}}/P_{\mathrm{UE}}$ rescales the measured UE-to-UE proxy power to the distributed-AP transmit-power budget. The optimization-3 objective is then

$$J_w^{(3)}(\mathcal{S}) = \frac{1}{|\mathcal{W}_w|\,|\mathcal{U}|} \sum_{n\in\mathcal{W}_w} \sum_{u\in\mathcal{U}} \sum_{c\in\mathcal{S}} \tilde{\rho}_{u,c,n}. \tag{17}$$

Optimization 3 is therefore the power-only counterpart of optimization 2: it uses the same nearest-user proxy association, but it requires only $|\mathrm{CSI}|^2$ rather than the complex proxy channel.

d) Greedy subset construction.: All three optimization rules use the same forward-selection search. Starting from $\mathcal{S}_w^{(0)} = \varnothing$, the controller adds one candidate at a time according to

$$c_r^\star = \arg \max_{c\in\mathcal{C}\setminus\mathcal{S}_w^{(r-1)}} J_w^{(q)}\left(\mathcal{S}_w^{(r-1)} \cup \{c\}\right), \tag{18}$$

$$q \in \{1,2,3\}, \qquad \mathcal{S}_w^{(r)} = \mathcal{S}_w^{(r-1)} \cup \{c_r^\star\}, \qquad r = 1,\ldots,N_{\mathrm{mov}}, \tag{19}$$

and finally sets $\mathcal{S}_w = \mathcal{S}_w^{(N_{\mathrm{mov}})}$. Consequently, the current implementation is a forward-selection heuristic rather than an exhaustive combinatorial optimizer.

After either optimization rule has chosen the subset, the selected geometric candidate sites are converted into physical relocations of labeled movable APs. Let $\mathbf{p}_m^{(w-1)}$ denote the previous-window position of movable AP m and let $\mathbf{q}_j^{(w)}$ denote the coordinates of the candidates in the newly selected subset. The controller solves the linear assignment problem

$$\pi_w^\star = \arg \min_{\pi\in\Pi_{N_{\mathrm{mov}}}} \sum_{m=1}^{N_{\mathrm{mov}}} \left\| \mathbf{p}_m^{(w-1)} - \mathbf{q}_{\pi(m)}^{(w)} \right\|_2^2, \tag{20}$$

where $\Pi_{N_{\mathrm{mov}}}$ is the permutation set on $\{1,\ldots,N_{\mathrm{mov}}\}$. This minimum-displacement matching preserves AP identities across windows and yields schedule traces that correspond to physically meaningful AP trajectories instead of arbitrary candidate relabelings.

Once all windows have been simulated, the concatenated movable-strategy trajectory is evaluated using the same trajectory-level summary score as the static baselines,

$$F = -\alpha P_{\mathrm{out}} + \beta P_{10} + \eta T_{\mathrm{peer}}, \tag{21}$$

where P_{out} is the fraction of user snapshots below the configured SINR threshold, P_{10} is the trajectory-wide 10th percentile, and T_{peer} is a peer-weighted mean SINR term derived from UE-to-UE CSI. The coefficients (α,β,η) correspond to the configured outage, percentile, and peer tie-break weights.

TABLE I: Key Rabot scenario parameters used in the Rabot simulations.

Parameter	Value
Carrier frequency	3.5 GHz
Bandwidth	100 MHz
User height	1.5 m
Number of users	10
Simulation horizon	3600 s
Time step	5 s
Distributed APs per strategy	6
Fixed distributed APs	0
Candidate wall height	1.5 m
Candidate wall spacing	18 m
Minimum candidate spacing	12 m
Candidate wall offset	0.25 m
Relocation window	600 s
Historical CSI decay rate	0.001 16 s^{-1}
Optimization-1 neighborhood size	$K = 10$ nearest UE snapshots per candidate
Optimization-2 distance threshold	25 m
Initialization seed	11
Compared strategies	central proxy, fixed distributed, movable distributed
Coverage maps	disabled in current Rabot config

This final score is used for reporting and mode comparison; the online relocation controller itself is driven by one of $J_w^{(1)}(\mathcal{S})$, $J_w^{(2)}(\mathcal{S})$, or $J_w^{(3)}(\mathcal{S})$, depending on the selected movable-strategy variant. The above formulation defines the relocation mechanisms used throughout the Rabot simulations.

IV. Simulation Setup

The Rabot outdoor scenario is defined in `scenarios/rabot.yaml`. The scene is derived from an OpenStreetMap (OSM) boundary around the KU Leuven Gent Campus Rabot environment. Candidate distributed-AP positions are generated along building walls at low height, one rooftop proxy is reserved for the central reference strategy, and user mobility is simulated over the outdoor walkable area with mixed pedestrian and bicycle profiles.

The simulation workflow used by the paper matches the repository workflow:

1) build the outdoor scene and walk graph from OSM,
2) generate wall-mounted candidate APs and the single rooftop proxy site,
3) simulate user trajectories over the walkable outdoor area,
4) compute path-based CSI and explicit SINR terms,
5) compare the central proxy, the fixed distributed baseline, the historical local-CSI relocation rule, the nearest-user proxy-ESR rule, and the nearest-user proxy-power rule,
6) export reusable result files,
7) generate analysis figures in a separate postprocessing step.

This section documents the reproducible processing chain from scene generation to postprocessed figure export.

The figure set in **??????** is bundled locally under `article/figures/rabot/` so the manuscript carries its own buildable asset set. These files are mirrored from the generated Rabot outputs in `outputs/rabot/` and `outputs/rabot/postprocessing/`, which remain the regeneration source for the reported figures.

TABLE II: Placement-strategy definitions used throughout the article.

Strategy	Description
`central_massive_mimo`	Single rooftop proxy on the building nearest the area center, oriented toward the center. Use as central reference only.
`distributed_fixed`	One distributed subset is selected from wall candidates and kept unchanged for the full run.
`distributed_movable`	Optimization 1. The distributed subset is reselected every relocation window from the local historical-CSI objective based on the configured $K = 10$ nearest UE snapshots per candidate and exponential aging of older samples.
`distributed_movable_optimization_2`	Optimization 2. The distributed subset is reselected every relocation window from a nearest-user UE-to-UE proxy-CSI model: each candidate site binds to the closest user within the configured distance threshold, and the subset is ranked by proxy ESR.
`distributed_movable_optimization_3`	Optimization 3. The distributed subset is reselected every relocation window from the same nearest-user distance-threshold proxy model as optimization 2, but using proxy average received power $\lvert\mathrm{CSI}\rvert^2$ as the local objective.

For the current Rabot instantiation, the relocation controller starts from a single seed constellation drawn from the wall-mounted candidate pool using the configured random seed. That seed constellation is frozen for the `distributed_fixed` baseline and also provides the initial labeled movable-AP positions for `distributed_movable`, `distributed_movable_optimization_2`, and `distributed_movable_optimization_3`. Thereafter, every relocation window applies the greedy subset search from **??** with the selected optimization objective and then solves a minimum-displacement assignment so that schedule traces, relocation distances, and move fractions correspond to the motion of persistent AP identities rather than to arbitrary reordering of candidate sites. For optimization 2 and optimization 3, the dormant candidate-position AP-to-UE channel is never queried during this search; only the measured UE-to-UE proxy channel or its power is used, and the actual deployed AP-to-UE CSI is recomputed only after the new candidate subset has been selected.

V. Scenario Geometry and Mobility Results

This result block summarizes the simulated environment before presenting radio-performance metrics. It reports the available candidate mounting locations, the selected deployment, and the spatial distribution of user trajectories over the Rabot area.

Figure **??** provides the geometric context for the subsequent SINR, ESR, and relocation analyses. The scene-layout panel reports the candidate-site pool and the selected constellation, whereas the trajectory colormap reports the spatial spread of the simulated user population.

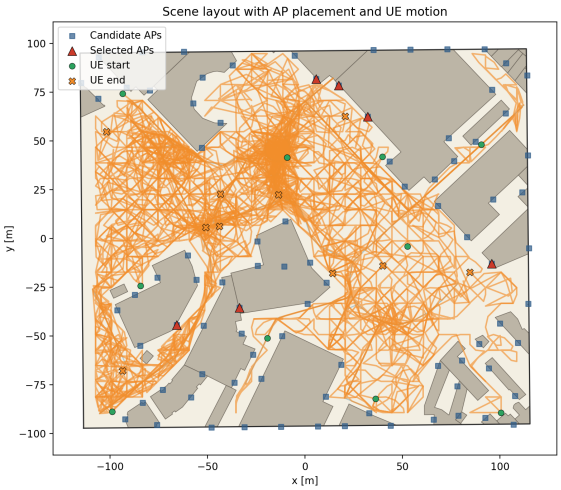

(a) Top-down Rabot scene layout with candidate sites, selected sites, and simulated mobility overlays.

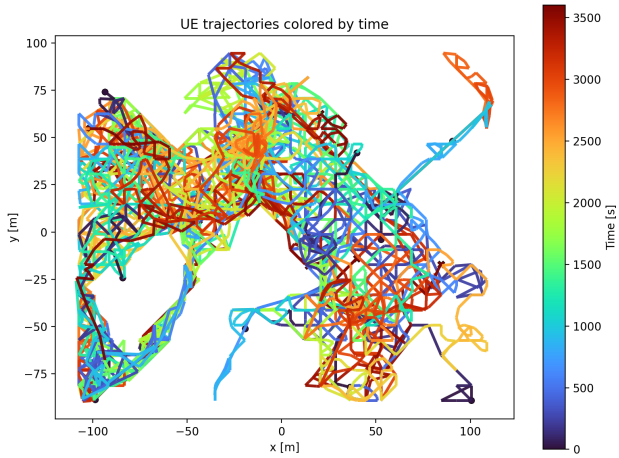

(b) Trajectory colormap used to visualize the temporal spread of user motion through the walkable space.

Fig. 2: Geometry results for the Rabot scenario. The panels show the selected deployment in the urban layout and the temporal distribution of user motion over the walkable area.

VI. SINR- and ESR-Oriented Results

This section reports the radio-performance figures generated by the postprocessing workflow. The panels summarize global SINR statistics, user-level averages, temporal ESR evolution, aggregate ESR distributions, and worst-user behavior.

Together, these figures provide complementary views of trajectory-level performance, user-level variability, temporal evolution, and lower-tail robustness across the compared placement strategies.

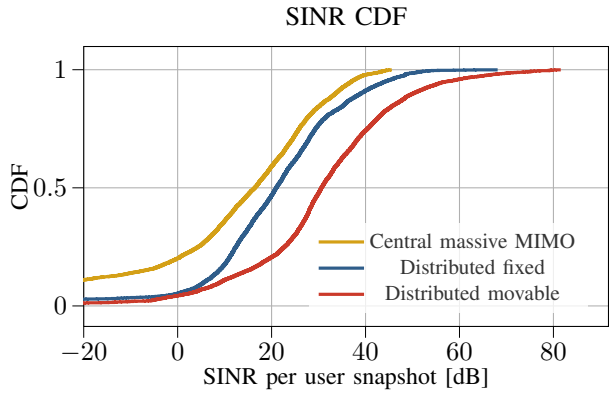

(a) Empirical SINR distribution across all user snapshots and compared placement strategies.

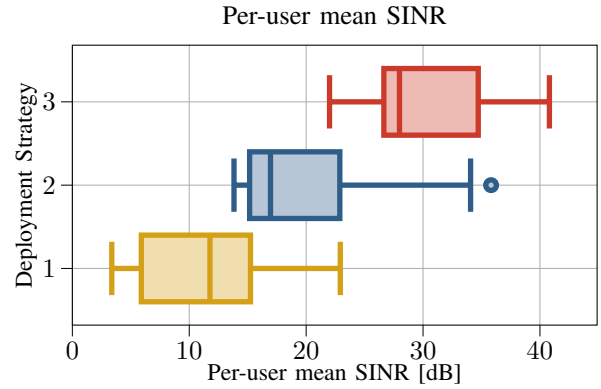

(b) Per-user mean SINR boxplot across strategies.

Fig. 3: First pair of radio-performance results. The left panel reports the global SINR distribution, and the right panel reports the distribution of per-user mean SINR.

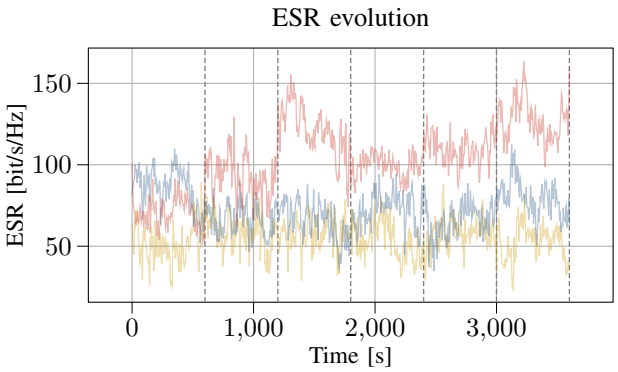

(a) ESR over time, including relocation markers and window-level step behavior.

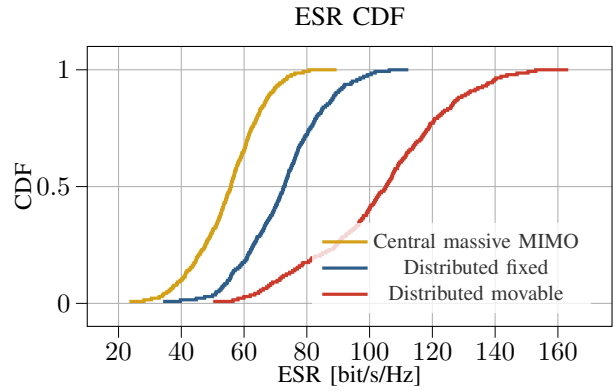

(b) ESR cumulative distribution function (CDF) across all evaluated snapshots.

Fig. 4: Second pair of radio-performance results. These panels report the temporal evolution of ESR and its global empirical distribution.

VII. Relocation and Practicality Results

The relocation figures complement the radio-performance results by quantifying the physical reconfiguration burden associated with movable infrastructure. The scheduling outputs report how often the movable APs change position and how much displacement the resulting schedules induce.

Together, the panels in **??** characterize the relocation activity associated with the evaluated placement strategies through aggregate movement summaries and relocation-distance distributions.

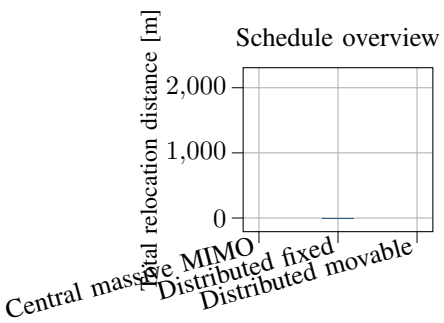

(a) Strategy-level overview of total relocation distance and move fraction.

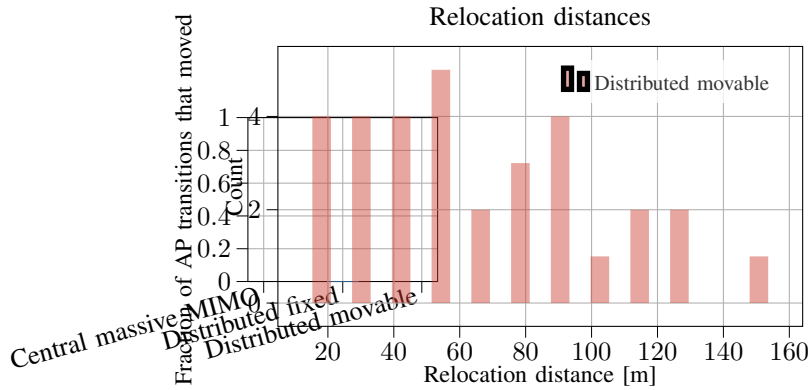

(b) Distribution of relocation distances across observed AP moves.

Fig. 5: Relocation-cost figures used to interpret how much physical infrastructure movement is required by the compared placement strategies.

VIII. Discussion and Current Limits

The present study has several modeling and evaluation limits that define the scope of the reported results.

The main limitations are the following:

- Only a single outdoor scenario is considered.
- The `central_massive_mimo` comparison point is a rooftop proxy, not a full placement model for one true co-located massive-multiple-input multiple-output (MIMO) array.
- The current Rabot configuration disables coverage-map exports, so the paper centers on trajectory-level SINR and schedule metrics.
- Citizen participation is abstracted as movable candidate positions and scheduler actions rather than being validated experimentally.
- Sensitivity to random seeds, scenario perturbations, and broader deployment-cost models is not yet characterized.

These limitations motivate extensions toward multi-scenario studies, sensitivity analyses, coverage-map reporting, and eventual experimental validation in co-created deployments.

IX. Conclusion

This article presented a simulation-based study of low-height distributed-MIMO access networks with repositionable infrastructure in an outdoor urban scenario. The paper combined a system model, three relocation algorithms, a reproducible Rabot simulation workflow, and postprocessed geometry, SINR, ESR, and relocation figures derived from exported artifacts. The three movable strategies span a historical local-AP-to-UE CSI controller, a nearest-user UE-to-UE proxy-CSI controller with a proxy-ESR objective, and a nearest-user proxy-power controller based on $|\mathrm{CSI}|^2$.

Within its current scope, the framework supports systematic comparison of a central rooftop proxy, a fixed distributed deployment, and three relocation-capable distributed deployments under a common channel model and mobility process. Natural next steps are multi-scenario studies, coverage-map analysis, sensitivity analysis for the proxy-based relocation rules, and experimental validation in the broader Cocoon program.